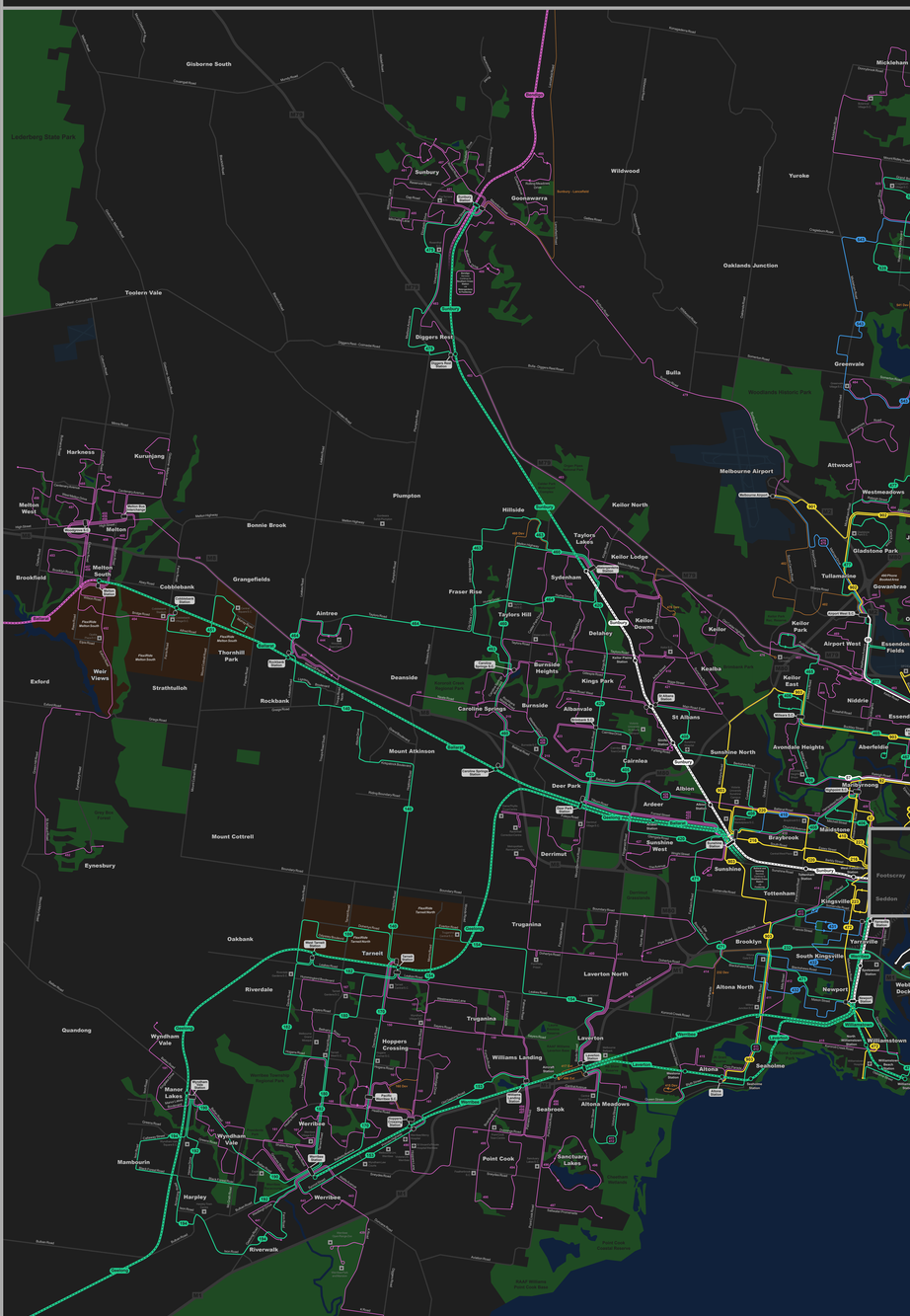
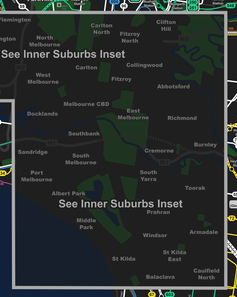
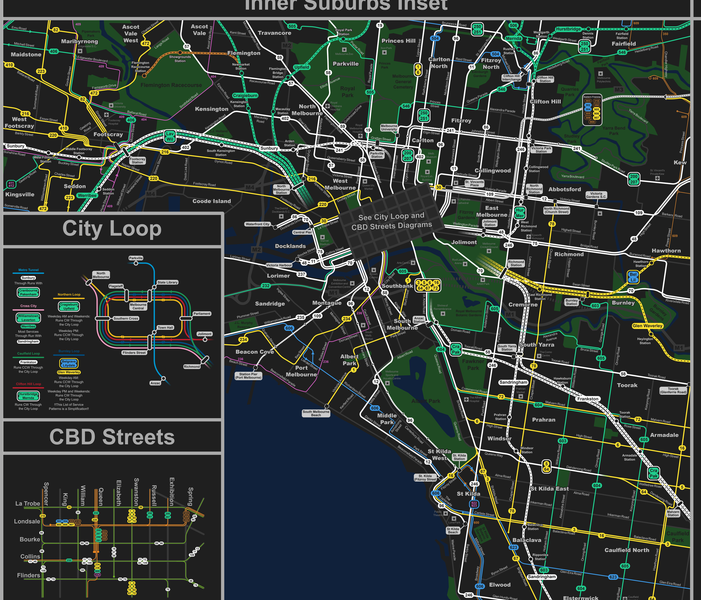
Melbourne PT Frequency Map

Weekday - Unofficial - Current as of November 2026 - by Adam Bain - ptmapmelb.com





Inner Suburbs Inset



City Loop

CBD Streets



Legend

During weekdays at midday, the bus, train or tram come every ...

- 10 minutes or less
- 11 - 15 minutes
- 16 - 20 minutes
- 21 - 30 minutes
- 31 - 60 minutes
- Peak Only or Limited Service
- FlexiRide (On-Demand) Service Area
- Railways
- Express or Limited Stops Service
- Eastern Freeway Bus Corridor
- Important Place — Major Interchange
- Route Terminus
- 123 — Route Label
- Combined Frequency
- Hospital
- Point of Interest
- M5 — Freeway/Tollway
- Street Without Public Transport
- River
- Ocean / Lake
- Park
- Airport

Operated by: Metro, V/Line, ptv, Ventura, Kinetic, Dysons, Transdev, Sunbury Connect, McKenzie's, Martins

For more public transport information, visit **transport.vic.gov.au** or the **PTV app** or call **1800 800 007**

Unofficial, current as of July 2026, by Adam Bain